MONKDB

AI-Native Identification & Mitigation of Pollution Generators

MonkDB-Powered 24×7 Automated AQI Intelligence & Action Platform

“Let our children grow up breathing hope, not smoke and make India cleaner, greener, and healthier.”

Introduction

MonkDB delivers an AI-native, end-to-end Air Quality Intelligence platform that moves cities beyond passive monitoring to active, automated pollution control.

By unifying sensor data, geospatial context, AI reasoning, and real-world system integrations in a single governed foundation, MonkDB enables authorities to identify pollution sources in real time, act decisively, and institutionalize long-term mitigation at city, state, and national scale.

Core Philosophy: From AQI Numbers to Pollution Pointers

Traditional AQI systems only answer **"how bad is the air?"** MonkDB is designed to answer **three harder questions**:

- **What is causing pollution (pointer identification)?**
- **Where exactly is it originating (zone, road, asset, vehicle, site)?**
- **What immediate and permanent action reduces it?**

This requires **continuous correlation** of:

- Time-series AQI signals
- Geospatial context
- Traffic, industrial, and construction activity
- Historical pattern similarity (vectors)
- Automated agent decisions

MonkDB enables this **inside one unified data + reasoning engine**, not stitched tools.

Pollution Pointer Identification – How It Actually Works



Step 1: Multi-Signal Ingestion (Always-On) - MonkDB continuously ingests:

- **AQI sensors** (PM2.5, PM10, NO_2, CO, SO_2, O_3)
- **Traffic feeds** (vehicle density, speed, idling time)
- **Industrial telemetry** (stack emissions, runtime, load)
- **Construction activity signals** (permits, schedules, dust sensors)
- **Weather context** (wind speed/direction, humidity, inversion layers)
- **Mobile & drone AQI sweeps** (high-resolution spatial validation)

Debris, Dumping Yards & Waste Hotspots (Solid & Organic Waste Pollution)

Unmanaged waste such as vegetable and fruit waste, hospital and biomedical waste, overflowing bins, stagnated water points, eatery waste, and plastic dumped on roads, drains, ponds, and coastal areas becomes a **silent but severe pollution generator**, **causing foul odour, toxic gases, mosquito breeding, and serious public-health risks.**

Using a combination of **ground sensors, geospatial analytics, and drone-based visual detection**, MonkDB enables continuous identification of waste hotspots, correlates them with AQI spikes and health complaints, and activates automated agents to trigger cleaning schedules, sanitation alerts, enforcement actions, and long-term waste management improvements.

This creates a **24×7 monitored, evidence-backed, and scalable system** to eliminate waste-driven pollution at source rather than reacting after outbreaks occur.

Step 2: Geo-Temporal Correlation (Root Cause Discovery)

For every AQI spike, MonkDB agents automatically run:

- **Time alignment**
  → "What changed 5–30 minutes before the spike?"
- **Spatial narrowing**
  → "Which road segment / industrial polygon / construction site lies upwind?"
- **Vector similarity search**
  → "Have we seen a similar pollution pattern before? What caused it then?"

This is where **vector embeddings** matter: Each pollution snapshot (AQI + traffic + weather + activity) is stored as a **semantic vector**, enabling fast similarity matching.

Step 3: Pointer Classification (Traffic vs Industry vs Construction)

Signal Pattern	Likely Pointer
High NO_2 + congestion + low wind	Traffic
PM10 spikes + daytime + nearby permits	Construction
SO_2 / NO_2 night peaks	Industry
PM2.5 rise + calm weather	Regional accumulation
CO + idling clusters	Heavy vehicles

Agents classify pollution sources probabilistically

This classification is **continuously re-learned**.

Pilot-First Strategy (How to Start Small & Prove Value)

Pilot Selection Criteria

Choose **one pollution type + one bounded area**:

Single traffic corridor / junction cluster

Industrial estate (5–10 factories)

Large construction zone

School / hospital impact radius

Goal: Show measurable reduction in 30–90 days.

Example Pilot: Traffic Pollution in a Congested Zone

Identification - MonkDB detects:	**Root Cause Identified**	**Automated Mitigation - MonkAgents trigger actions:**	**Continuous Monitoring**	**Typical Pilot Outcomes**
• Repeated **NO_2 + PM2.5 spikes** • Coinciding with **low-speed congestion** • Concentrated around **3 road segments** • Occurring **8–11 AM & 6–9 PM**	• Poor signal timing • Illegal parking narrowing lanes • High % of old diesel vehicles • Idling buses at stops	• Adaptive traffic signal changes • Route diversion APIs • Bus stop dwell-time optimization • Alerts to enforcement teams • ANPR-based identification of high-polluting vehicles • SMS / App alerts to vehicle owners (where allowed) • All actions are **logged back into MonkDB**.	• AQI before vs after comparison • Vehicle flow improvement • Repeat spike detection (if any) • Health exposure reduction analysis	• 15–30% AQI reduction in zone • 20–40% congestion improvement • Immediate policy justification for scale-out

Permanent Mitigation (Beyond Quick Wins)



MonkDB enables **structural fixes**, not just alerts:

- Traffic redesign recommendations
- Low-emission zone simulation
- Bus electrification prioritization
- Industrial scheduling optimization
- Construction phase dust-control enforcement
- Policy simulations (“what if we ban X?”)

Fully Automated 24×7 Agent Architecture

Multi-source data capture: IoT AQI sensors (PM2.5/PM10/NO_2/CO_2), mobile/drone scans, traffic systems, weather APIs, industrial feeds, and satellite/imagery streams are ingested securely via MQTT/HTTP/REST.

Unified storage & real-time queries in MonkDB: All signals are consolidated into the MonkDB unified core (time-series + geospatial + documents + vectors) so hotspot queries, trend analysis, and cross-correlation run in one engine.

MCP + MonkAgents intelligence: Agents continuously perform anomaly detection, short-term forecasting, source attribution (geo-temporal correlation), and compliance checks, with every event and decision written back for learning and audit.

Automated actions & integrations: Mitigation agents trigger 24×7 actions—traffic rerouting APIs, industrial alerts/throttling workflows, enforcement notifications, and citizen advisories—while observability runs through Prometheus/Grafana.

Outcomes delivered: Real-time alerts, explainable dashboards (heatmaps + root-cause), automated mitigation playbooks, and policy/health insights drive measurable improvement—fewer AQI spikes, faster response, and reduced exposure

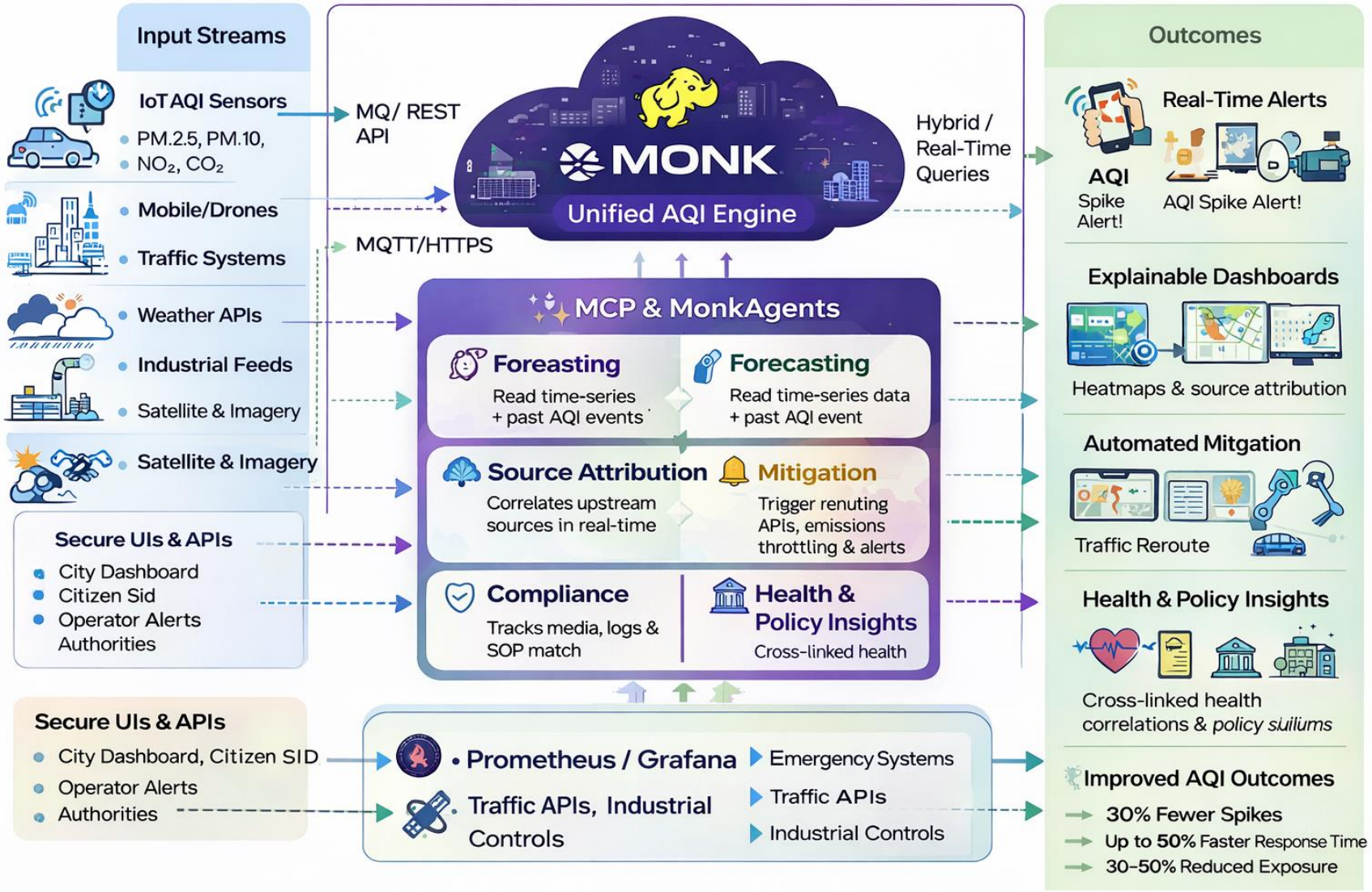

Always Running Agents

Agent	Function
Ingestion Agent	Sensor & feed normalization
Correlation Agent	Geo-temporal root cause
Classification Agent	Pollution pointer tagging
Forecasting Agent	Predict upcoming spikes
Mitigation Agent	Trigger actions & APIs
Compliance Agent	Track violations
Learning Agent	Improve future accuracy
Alert Agent	24×7 notifications

No human dependency for detection.

Humans intervene only for governance & enforcement.

Pollution Generators and Mitigation Strategy Matrix

Master Planning Table

Pollution Generator	Key Reasons	Immediate Actions	Long-Term Fix	MonkDB Role	Outcome
Traffic	Congestion, idling, old vehicles	Rerouting, signal tuning, alerts	EV transition, LEZs	Geo + TS + Agents	AQI ↓ 20–30%
Heavy Vehicles	Diesel emissions	ANPR detection, time bans	Fleet modernization	Vector + Geo	NO_2 ↓
Construction	Dust, uncovered sites	Stop-work alerts, fines	Green construction norms	Geo + Docs	PM10 ↓
Industries	Stack emissions	Runtime throttling alerts	Tech upgrade	TS + Geo	SO_2 ↓
Power DG Sets	Backup generators	Usage alerts	Grid / storage	TS + Policy	PM2.5 ↓
Waste Burning	Illegal burning	Drone alerts	Waste infra	Geo + Vision	PM spikes ↓
Regional Drift	Weather stagnation	Health advisories	Regional policy	Forecasting	Exposure ↓

Why MonkDB Is Critical (and Not Just Another Dashboard)

Unified root-cause intelligence (not siloed tools)

Permanent learning loop

Explainable decisions for regulators



City-scale, 24×7 operation

Real-time + predictive response

Agent-driven automation

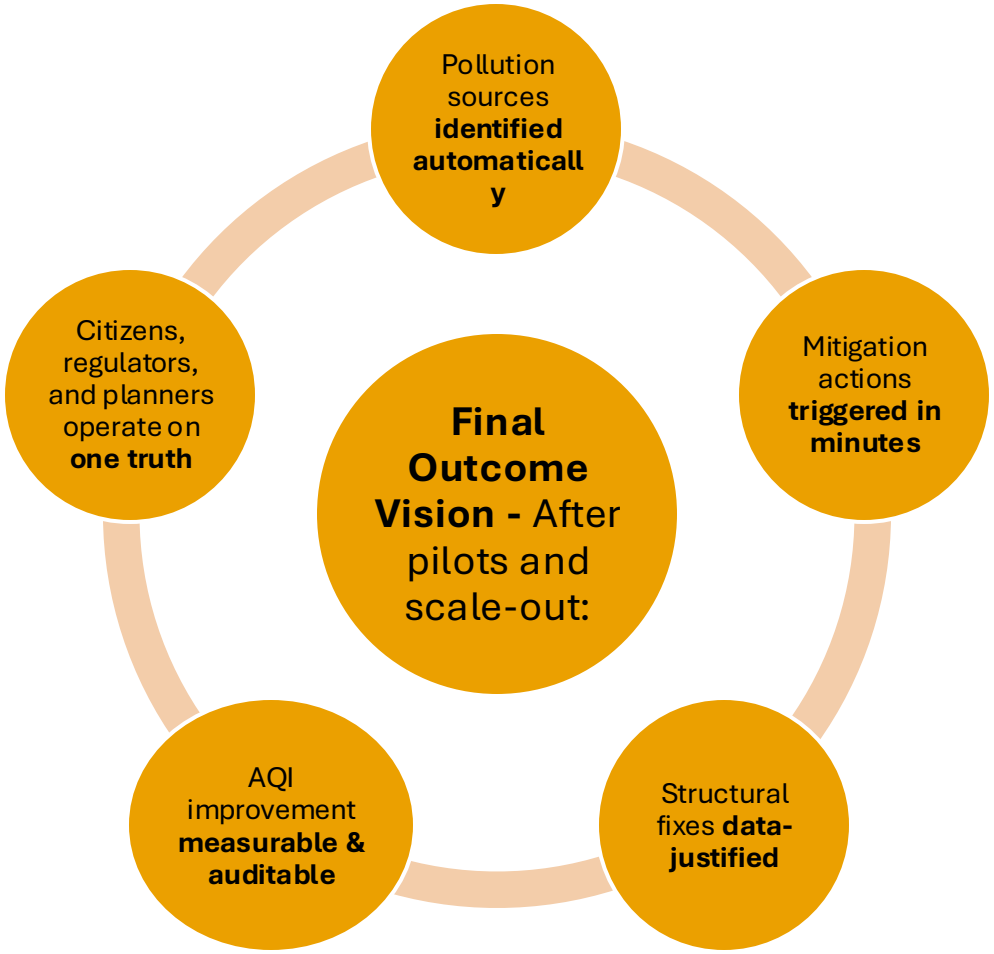

Concluding Statement

With **MonkDB** and **MonkAgents**, air quality management becomes a continuously operating, data-driven command system detecting, explaining, and mitigating pollution 24×7×365.

We **commit** to measurable outcomes:

- Faster response
- Fewer AQI spikes,
- Stronger regulatory enforcement,
- Sustained public-health impact establishing a future-ready foundation for cleaner, healthier cities.